ABSTRACT RESEARCH GROUP, LLC.
TITLE SEARCH REQUEST

MAIN OFFICE / VA RECORDINGS
19309 WINMEADE DR. #229
LANSDOWNE, VA 20176

orders@abstractresearch.com
Phone 703-430-3695
Fax 703-430-3696

Order #: **77037** *Search Ordered:* **3/27/2026** *Search Due:* **3/28/2026**

PRODUCT: **CURRENT OWNER SEARCH [24 MONTH DEED CHAIN REQ'D]*****

COUNTY: **TAZWELL COUNTY**

NAME: **BORROWER: Nolan Calabro and Kathy L. Calabro**

3/27/2026

ADDRESS: **475 Greever Ridge Road Tazewell, VA 24651**

PARCEL ID: **137 A 0019A, 30052**

LEGAL: **3.00 ACRES BURKES GARDEN**

Please complete the order type as listed above in PRODUCT. Please return searches to searches@abstractresearch.com

******CURRENT OWNER SEARCH REQUIREMENTS ***: 24 MONTH DEED CHAIN REQUIRED***

1. Copies of the following:
- ***a. All Deeds of conveyance including legal description.***
- ***b. All Open Mortgages/Deed of Trusts (full copies unless otherwise noted)***
- ***c. All Assignments/Modifications, if any.***
- ***d. All Open Judgments/Liens/UCC's***

2. All current tax information that attaches to the property with parcel number (tax id, folio #, etc.). Also, please make sure to include the tax bill or screen print out.

3. Effective date

4. Abstractor runsheets

******30 YEAR SEARCH REQUIREMENTS ******

1. Search must go back at least 30 years to a bona fide sales transaction.

2. Full copies of Deeds identified in #1.

3. Copies of open mortgages, deeds of trusts or encumbrances on the PROPERTY (ALL PAGES), all satellite documents with regard to identified encumbrances.

4. Recording Information for any CCR's, Easements, etc. pertaining to the subject property - 1st page.

5. Please provide Plat MAP

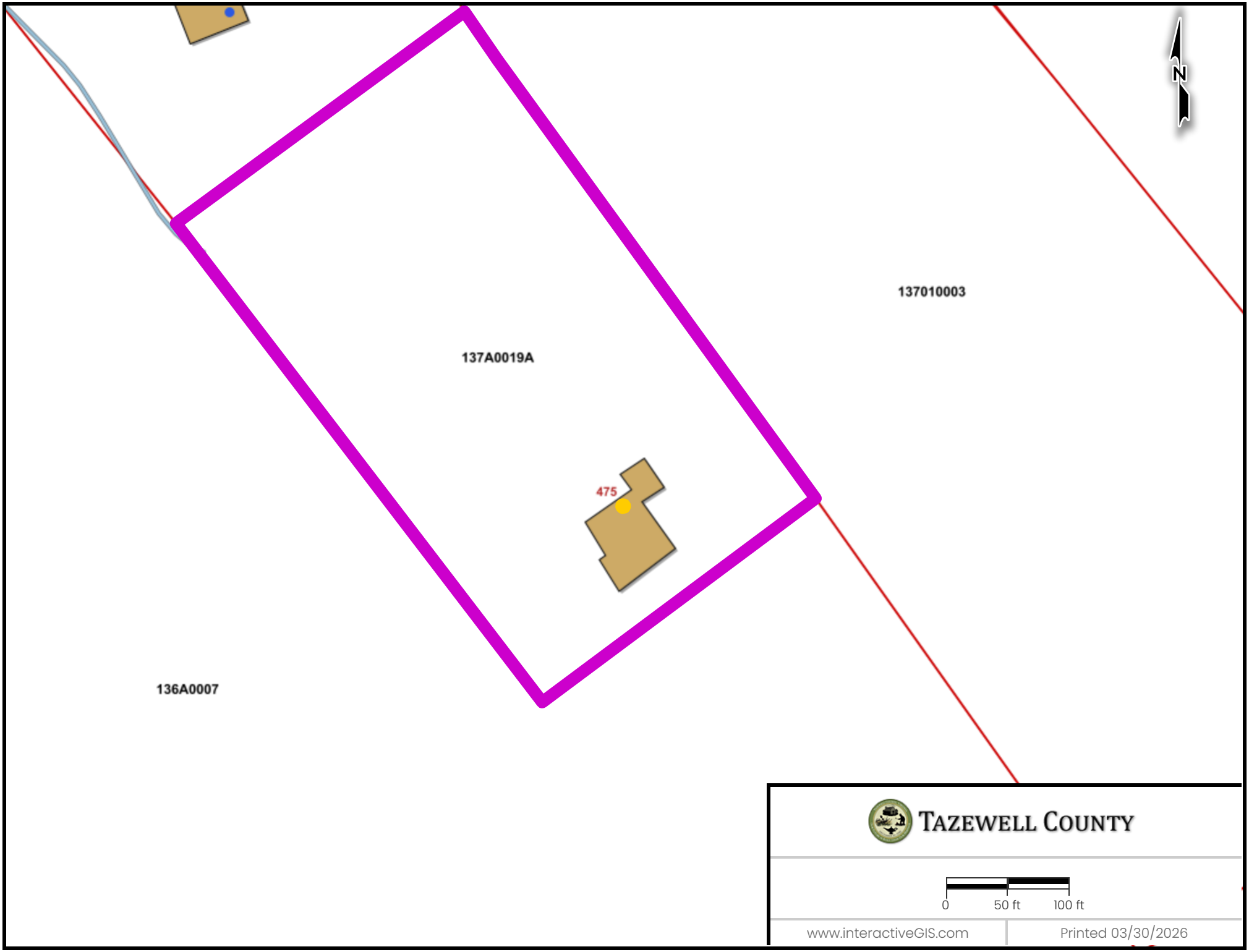
N
137010003
137A0019A
475
136A0007
TAZEWELL COUNTY
0
50 ft
100 ft
www.interactiveGIS.com
Printed 03/30/2026

Tax Map #: 137A0019A
As of: 3/27/2026 9:54:25 PM

Account #: 30052

Tazewell County Report

Property Owner

Name:	CALABRO, NOLAN & KATHY
Mailing Address:	475 GREEVER RIDGE RD TAZEWELL, VA 24651-9569
Parcel Use:	SINGLE FAMILY SUBURB - RES
Tax District:	01 - JEFFERSONVILLE

Property Information

Physical Address:	475 GREEVER RIDGE RD
Tax Map #	137A0019A
Size (Acres):	3.00
Legal Description:	3.00 ACRES, BURKES GARDEN

Current Assessment

Year	Land	Improvements	Land Use Value	Total
2026	$55,000	$319,000	$0	$374,000

Land

Land Type	Size	Unit Price	Assessed
PASTURE	2.00	5,000.00	10,000.00
H/S-C450 (45000)	1.00	45,000.00	45,000.00
Total	**3.00**		**55,000**

Deed Transfers

Deed Date	Instrument Year	Book	Page	Deed Type	Est. Sale	Owner	# of Parcels in Sale
5/16/2025	2025	01114	N/A	DB	$445,000	CALABRO, NOLAN & KATHY	1
12/25/2024	0	763	682	N/A	$0	ST. CLAIR, KENNETH WAYNE &	1

Residential Card 1 Details

Occupancy	Story	Style	Total Liv	Grade	Year Built
SF	1.0	Building	2,591	A	2010

Model:	RESIDENTIAL	**Interior Wall:**	DRYWALL
Rooms:	**Beds:** 3 **Total:** 9	**Exterior Wall:**	VINYL
Bathrooms:	**Full:** 2 **Half:** 1	**Foundation:**	BRICK
Floor Cover:	HARDWOOD		
Roof Cover:	COMPOSITION SHINGLE	**Heat/Cool:**	HEAT PUMP
Roof Type:	GABLE	**Central AC:**	100%
Basement:	NONE	**Basement Area:**	0

Residential Card 1 Photo

Residential Card 1 Sketch

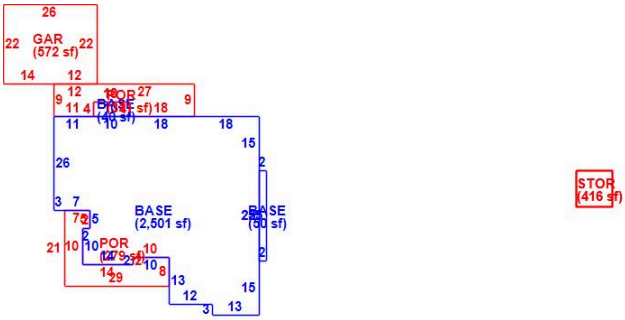

Building Sub-Areas (sq ft)

Code	Description	Gross Area	Living Area
BASE	FIRST FLOOR	2,591	2,591
GAR	GAR-BRK OR FR	572	0
POR	PORCH	590	0
STOR	STORAGE	832	0
Totals	**4,585**	**2,591**	

Outbuildings and Other Improvements

Code	Description	Sub Code-Description	Size	Assessed Value	Grade
GAR	GARAGE	Vinyl	720.00 UN	$18,000	C
GENNY	GENERATOR	Typical	1.00 UN	$4,000	C

Assessment History

Year	Land	Improvements	Land Use Value	Total
2025	$55,000	$319,000	$0	$374,000
2024	$55,000	$319,000	$0	$374,000
2023	$43,000	$272,300	$0	$315,300
2022	$43,000	$272,300	$0	$315,300
2021	$43,000	$272,300	$0	$315,300
2020	$43,000	$272,300	$0	$315,300
2019	$43,000	$272,300	$0	$315,300
2018	$43,000	$272,300	$0	$315,300
2017	$38,000	$284,800	$0	$322,800
2016	$38,000	$284,800	$0	$322,800
2015	$38,000	$284,800	$0	$322,800
2014	$38,000	$284,800	$0	$322,800
2013	$38,000	$284,800	$0	$322,800
2012	$38,000	$284,800	$0	$322,800
2011	$28,000	$273,700	$0	$301,700
2010	$28,000	$0	$0	$28,000
2009	$28,000	$0	$0	$28,000
2008	$28,000	$0	$0	$28,000
2007	$28,000	$0	$0	$28,000
2006	$28,000	$0	$0	$28,000
2005	$7,500	$0	$0	$7,500
2004	$7,500	$0	$0	$7,500
2003	$7,500	$0	$0	$7,500
2002	$7,500	$0	$0	$7,500
2001	$7,500	$0	$0	$7,500
2000	$7,500	$0	$0	$7,500

Map

Not a Legal Document

Subject to terms and conditions
www.actDataScout.com

Date: 3/27/26 Cash Register: 001 DAVID T LARIMER TREASURER 13:29:32
Cshr: KRISTIN HURLEY Account#: 000030052 Cust.Transactions:
Type: PAY Dept/Bill#: RE2025 00260150001 P/I Date: 3/27/2026 3/27/2026
Name: ST. CLAIR, KENNETH WAYNE & Bill Date: 4/01/2025 Half: 1
Nam2: Due/PstDt: 6/05/2025
Addr: HEDDA GREEVER PAdr: 475 GREEVER RIDGE RD
*3730 RICHFIELD LN APT 212
SALEM VA
Zip: 24153 - 1477 Map#: 137 A 0019A
Desc: 3.00 ACRES, BURKES GARDEN
Acre: 3.000 Dist/Cls 01 / 01 Status
MrtgCo:
SSN: 000 - 00 - 0000 000 - 00 - 0000

Land: $55,000 Improve: $319,000 Use: $0
Original Bill: $1,084.60 Credits: $1,084.60 Discount: $.00
Penalty Paid: $.00 Int Paid: $.00 Last Date: 5/27/2025
Amount Owed: $.00 Other: $.00 Setoff Claim#: 000000000
Total Owed: $.00 Penalty: $.00 Interest: $.00
Principal Due: Pen Rate % Int Fact
Penalty Due: Interest Due:
Total Amount Due: Aging:

F1=Amt Tender F2=Next Ticket F3=Exit F10=Funct Menu F20=Attach

Date: 3/27/26 Cash Register: 001 DAVID T LARIMER TREASURER 13:30:25
Cshr: KRISTIN HURLEY Account#: 000030052 Cust.Transactions:
Type: PAY Dept/Bill#: RE2025 00260150002 P/I Date: 3/27/2026 3/27/2026
Name: ST. CLAIR, KENNETH WAYNE & Bill Date: 4/01/2025 Half: 2
Nam2: Due/PstDt: 12/05/2025
Addr: HEDDA GREEVER PAdr: 475 GREEVER RIDGE RD
*3730 RICHFIELD LN APT 212
SALEM VA
Zip: 24153 - 1477 Map#: 137 A 0019A
Desc: 3.00 ACRES, BURKES GARDEN
Acre: 3.000 Dist/Cls 01 / 02 Status
MrtgCo:
SSN: 000 - 00 - 0000 000 - 00 - 0000

Land: $55,000 Improve: $319,000 Use: $0
Original Bill: $1,084.60 Credits: $1,084.60 Discount: $.00
Penalty Paid: $.00 Int Paid: $.00 Last Date: 1/08/2026
Amount Owed: $.00 Other: $.00 Setoff Claim#: 000000000
Total Owed: $.00 Penalty: $.00 Interest: $.00
Principal Due: Pen Rate % Int Fact
Penalty Due: Interest Due:
Total Amount Due: Aging:

F1=Amt Tender F2=Next Ticket F3=Exit F10=Funct Menu F20=Attach

VIRGINIA LAND RECORD COVER SHEET

Commonwealth of Virginia VA. CODE §§ 17.1-223, -227.1, -249

FORM A – COVER SHEET CONTENT

202501114

INSTRUMENT 202501114
RECORDED IN THE CLERK'S OFFICE OF
TAZEWELL COUNTY CIRCUIT COURT ON
MAY 16, 2025 AT 03:34 PM
$445.00 GRANTOR TAX WAS PAID AS
REQUIRED BY SEC 58.1-802 OF THE VA. CODE
STATE: $222.50 LOCAL: $222.50
CHARITY D. HURST, CLERK
RECORDED BY: KPC

(Area Above Reserved For Deed Stamp Only)

Instrument Date: 5/15/2025

Instrument Type: DBS

Number of Parcels: 1 Number of Pages: 3

[ ] City [X] County TAZEWELL COUNTY COURT
CIRCUIT COURT

Tax Exempt? VIRGINIA/FEDERAL CODE SECTION

[ ] Grantor:

[ ] Grantee:

Business/Name

1 Grantor: ST. CLAIR, KENNETH WAYNE

2 Grantor: ST. CLAIR, HEDDA GREEVER

1 Grantee: CALABRO, NOLAN

2 Grantee: CALABRO, KATHY

Grantee Address

Name: NOLAN CALABRO

Address: 475 GREEVER RIDGE ROAD

City: TAZEWELL State: VA Zip Code: 24651

Consideration: $445,000.00 Existing Debt: $0.00 Actual Value/Assumed: $374,000.00

PRIOR INSTRUMENT UNDER § 58.1-803(D):

Original Principal: $0.00 Fair Market Value Increase: $0.00

Original Book No.: Original Page No.: Original Instrument No.:

Prior Recording At: [ ] City [ ] County Percentage In This Jurisdiction: 100%

Book Number: Page Number: Instrument Number:

Parcel Identification Number/Tax Map Number: 137 A 0019A

Short Property Description: 3.00 ACRES, BURKES GARDEN

Current Property Address: 475 GREEVER RIDGE ROAD

City: TAZEWELL State: VA Zip Code: 24651

Instrument Prepared By: JAME W. DUDLEY Recording Paid By: ALLSTAR TITLE & SETTLEMENT

Recording Returned To: ALLSTAR TITLE & SETTLEMENT

Address: 502 NEWBERN ROAD

City: DUBLIN State: VA Zip Code: 24084

© Copyright 2014 Office of the Executive Secretary, Supreme Court of Virginia. All rights reserved.

Tax Map Number: 137A0019A

Assessed Value: $374,000.00

THIS DEED, made and entered into on this 15th day of May, 2025, by and between KENNETH WAYNE ST. CLAIR AND HEDDA GREEVER ST. CLAIR, his wife, Grantors, and NOLAN CALABRO AND KATHY CALABRO, his wife, Grantees, whose address is 475 Greever Ridge Road, Tazewell, Va. 24651.

WITNESSETH:

That for and in consideration of the sum of Four Hundred Forty-Five Thousand and 00/100 ($445,000.00) Dollars, cash in hand paid, and other good and valuable consideration, the receipt and sufficiency of which is hereby acknowledged, Grantors, do hereby grant and convey, with covenants of general warranty of title, unto Grantees, as tenants by the entirety with full and complete rights of survivorship as at common law, all of that certain lot or parcel of land situate in Burkes Garden, Tazewell County, Virginia, adjoining the lands of Jacob Leach Rhudy, Jr. and more particularly bounded and described as follows, to-wit:

BEGINNING at a set iron pin in the west line of the said Jacob Leach Rhudy, Jr. at the northeast corner of a lot containing 1.9708 acres conveyed to John Cooper and Susan Cooper, his wife, by the said Edgar P. Greever and wife by deed dated May 29, 1987, of record in the Clerk's Office of Tazewell County, Virginia, in Deed Book 568, at page 652, which lot is shown on a certain plat attached to and made a part of a deed dated February 4, 1997, from the said Edgar P. Greever and wife, to Charles R. Levison and Naomi G. Levison, his wife, of record in said Clerk's Office in Deed Book 727, at page 331, thence leaving the said Cooper lot and with the west line of Rhudy, S. 35 deg. 16' 00" E. 473 feet to a point; thence leaving the Rhudy line, and through the lands of the Grantors, S. 54 deg. 56' 51" W. 276.30 feet to a point; thence N. 35 deg. 16' 00" W. 473 feet to a point at the southeast corner of the Cooper

lot; thence with the east line of the Cooper lot, N. 54 deg. 56' 51" E. 276.30 feet to the point of BEGINNING, containing approximately 3 acres, more or less.

And being the same property conveyed to the Grantors herein, by Deed of Gift, from Edgar P. Greever, et als., dated November 4th, 1993, of record in the Office of the Clerk of the Circuit Court of Tazewell County, Virginia, in Deed Book 763, page 682.

"As appurtenant to the above-described lot, the Grantors further grant and convey unto Grantees, as tenants by the entirety, as aforesaid, a road right of way 20 feet in width from Virginia Route 727, over and across the lands of the said Edgar P. Greever to the west line of the lot herein conveyed, which road right of way is to be used jointly by the Grantors, the Grantees, and by the said John W. Cooper and Susan M. Cooper, his wife, and by Charles R. Levison and Naomi G. Levison, his wife, the owners of a lot north of the Cooper lots, being the same lot which was conveyed to them by Edgar P. Greever and Lucie G. Greever, his wife, by deed dated February 4, 1997, of record in said Clerk's Office in Deed Book 727, at page 331, said road right of way being more particularly described in a certain deed of May 29, 1987, of record in said Clerk's Office in Deed Book 586, at page 652, from Edgar P. Greever and wife to the said John W. Cooper and wife."

This conveyance is made subject to any and all easements, conditions, restrictions and covenants now of record in said Clerk's Office, to the extent that the same may lawfully affect the property herein conveyed and subject to such matters as would be revealed by a careful inspection of the premises.

The Grantors herein declare that the total consideration paid for the property hereby conveyed is $445,000.00.

WITNESS the following signatures and seals.

Kenneth Wayne St. Clair (SEAL)
Kenneth Wayne St. Clair

Hedda Greever St. Clair (SEAL)
Hedda Greever St. Clair

STATE OF VA,

COUNTY OF TAZEWELL, TO-WIT:

The foregoing instrument was acknowledged before me by Kenneth Wayne St. Clair and Hedda Greever St. Clair, his wife, on this 15th day of May, 2025.

My commission expires: 11-30-27.

Anne Whitt
Notary Public

ANNE BREWSTER WHITT
NOTARY PUBLIC
REG. #172998
MY COMMISSION EXPIRES
11/30/2027
COMMONWEALTH OF VIRGINIA

This Instrument Prepared by:
James W. Dudley – Virginia Bar Code 13252
The Dudley Law Firm
728 Virginia Avenue
Bluefield, VA 24605

PREPARED WITHOUT THE BENEFIT OF A TITLE EXAMINATION

THIS DEED OF GIFT, made and entered into, this the 4th day of November, 1998, by and between **EDGAR P. GREEVER** and **LUCIE G. GREEVER,** his wife; **NANCY GREEVER BROOKS** and **WILLIAM T. BROOKS,** her husband; **LUCINDA GREEVER NICHOLSON** and **JOE A. NICHOLSON**, her husband; and **ELEANOR GREEVER LEWIS** and **THAD Q. LEWIS**, her husband, Grantors, and **KENNETH WAYNE ST. CLAIR** and **HEDDA GREEVER ST. CLAIR,** his wife, as tenants by the entirety, Grantees, whose address is Route 3, Box 542, Buchanan, Virginia 24066;

WITNESSETH:

That for and in consideration of the love and affection of the Grantors for the Grantees, the Grantors do hereby give, grant and convey, with covenants of general warranty of title, unto the said Kenneth Wayne St. Clair and Hedda Greever St. Clair, his wife, Grantees, as tenants by the entirety, with full and complete rights of survivorship as at common law, all of that certain lot or parcel of land situate in Burkes Garden, Tazewell County, Virginia, adjoining the lands of Jacob Leach Rhudy, Jr. and more particularly bounded and described as follows, to-wit:

BEGINNING at a set iron pin in the west line of the said Jacob Leach Rhudy, Jr. at the northeast corner of a lot containing 1.9708 acres conveyed to John Cooper and Susan Cooper, his wife, by the said Edgar P. Greever and wife by deed dated May 29, 1987, of record in the Clerk's Office of Tazewell County, Virginia, in Deed Book 568, at page 652, which lot is shown on a certain plat attached to and made a part of a deed dated February 4, 1997, from the said Edgar P. Greever and wife, to Charles R. Levison and Naomi G. Levison, his wife, of record in said Clerk's Office in Deed Book 727, at page 331, thence leaving the said Cooper lot and with the west line of Rhudy, S. 35° 16' 00" E. 473 feet to a point; thence leaving the Rhudy line, and through the lands

This instrument prepared by Gillespie, Hart, Altizer & Whitesell, P.C.

of the Grantors, S.54 ° 56' 51" W. 276.30 feet to a point; thence N. 35° 16' 00" W. 473 feet to a point at the southeast corner of the Cooper lot; thence with the east line of the Cooper lot, N. 54° 56' 51" E. 276.30 feet to the point of BEGINNING, containing approximately 3 acres, more or less.

The lot herein conveyed is a portion of a 132.01 acre tract acquired by the said Edgar P. Greever under the Will of Emma H. Greever of record in said Clerk's Office in Will Book 18, at page 116, and by deed from Ida R. Greever, dated May 23, 1961, of record in said Clerk's Office in Deed Book 292, at page 232. By various Deeds of Gift also of record in said Clerk's Office, the said Edgar P. Greever and Lucie G. Greever, his wife, have conveyed undivided interests in said tract to their daughters, Nancy Greever Brooks, Lucinda Greever Nicholson and Eleanor Greever Lewis, all grantors herein.

As appurtenant to the above-described lot, the Grantors further grant and convey unto the Grantees, as tenants by the entirety, as aforesaid, a road right of way 20 feet in width from Virginia Route 727, over and across the lands of the said Edgar P. Greever to the west line of the lot herein conveyed, which road right of way is to be used jointly by the Grantors, the Grantees, and by the said John W. Cooper and Susan M. Cooper, his wife, and by Charles R. Levison and Naomi G. Levison, his wife, the owners of a lot north of the Cooper lots, being the same lot which was conveyed to them by Edgar P. Greever and Lucie G. Greever, his wife, by deed dated February 4, 1997, of record in said Clerk's Office in Deed Book 727, at page 331, said road right of way being more particularly described in a certain deed of May 29, 1987, of record in said Clerk's Office in Deed Book 586, at page 652, from Edgar P. Greever and wife to the said John W. Cooper and wife.

This instrument prepared by Gillespie, Hart, Altizer & Whitesell, P.C.

The Grantors do hereby expressly reserve for themselves, their heirs and

devisees, the exclusive right and option to repurchase the above-described lot with any improvements placed thereon in the event the Grantees, their heirs, devisees, or successors in interest should elect to sell the same. In such event, the Grantees, their heirs, devisees, or successors in interest shall give the said Edgar P. Greever, if living, or if deceased, shall give Nancy Greever Brooks, Lucinda Greever Nicholson and Eleanor Greever Lewis or their heirs or devisees, written notice of a bona fide offer of purchase from a third-party and the said Edgar P. Greever, or the said Nancy Greever Brooks, Lucinda Greever Nicholson or Eleanor Greever Lewis, or any of them, or their heirs, or devisees, shall have the right within 30 days of receipt of such notice to purchase said lot and improvements at the price stated in the bona fide offer. This option shall be exercised by written notice and mailed within 30 days from receipt of notice from the owner of the desire to sell and agreeing to pay the price offered by the bona fide purchaser.

WITNESS the following signatures and seals.

Edgar P. Greever, (SEAL)
Edgar P. Greever

Lucie G. Greever, (SEAL)
Lucie G. Greever

Nancy Greever Brooks, (SEAL)
Nancy Greever Brooks

, (SEAL)
William T. Brooks

Lucinda Greever Nicholson (SEAL)
Lucinda Greever Nicholson

This instrument prepared by
Gillespie, Hart, Altizer & Whitesell, P.C.

BK0763PG0685

_____, (SEAL)
Joe A. Nicholson

_____, (SEAL)
Eleanor Greever Lewis

_____, (SEAL)
Thad Q. Lewis

State of Virginia,

County of Tazewell, to-wit:

The foregoing instrument was acknowledged before me on this, the 25th day of November, 1998, by Edgar P. Greever and Lucie G. Greever, his wife.

My commission expires July 31, 2001.

Virginia H. Karnes
Notary Public

State of North Carolina

County/City of Guilford, to-wit:

The foregoing instrument was acknowledged before me, this 13 day of November, 1998, by Nancy Greever Brooks and William T. Brooks, her husband.

Given under my hand and notarial seal, this 13 day of November, 1998.

My commission expires May 24, 2000.

Roxanna L. Cummings
Notary Public

This instrument prepared by Gillespie, Hart, Altizer & Whitesell, P.C.

State of North Carolina

County/City of Forsyth, to-wit:

The foregoing instrument was acknowledged before me, this 10th day of November, 1998, by Lucinda Greever Nicholson and Joe A. Nicholson, her husband.

Given under my hand and notarial seal, this 10th day of November 1998.

My commission expires March 25, 2002.

Tammy L Webster
Notary Public

OFFICIAL SEAL
TAMMY L. WEBSTER
NOTARY PUBLIC-NORTH CAROLINA
COUNTY OF FORSYTH
My Commission Expires March 25, 2002

State of Virginia,

~~County~~/City of Richmond, to-wit:

The foregoing instrument was acknowledged before me, this 19th day of November, 1998, by Eleanor Greever Lewis and Thad Q. Lewis, her husband.

Given under my hand and notarial seal, this 19th day of November, 1998.

My commission expires 04-30-99.

Patricia S. Holson
Notary Public

This instrument prepared by Gillespie, Hart, Altizer & Whitesell, P.C.

INSTRUMENT #9806364
RECORDED IN THE CLERK'S OFFICE OF
TAZEWELL COUNTY ON
DECEMBER 1, 1998 AT 02:41PM
JAMES E. BLEVINS, CLERK
BY: Angela D. Ray (DC)

THIS DEED OF GIFT, made and entered into, this the 29th day of September, 1993, by and between EDGAR P. GREEVER and LUCIE G. GREEVER, his wife, parties of the first part, Grantors, and NANCY GREEVER BROOKS, LUCINDA GREEVER NICHOLSON and ELEANOR GREEVER LEWIS, parties of the second part, Grantees;

W I T N E S S E T H:

That for and in consideration of the love and affection which the parties of the first part have for their three daughters, the parties of the second part herein, the said Edgar P. Greever and Lucie G. Greever, his wife, parties of the first part, do hereby grant, give and convey, with covenants of general warranty of title, unto the said Nancy Greever Brooks, Lucinda Greever Nicholson and Eleanor Greever Lewis, parties of the second part, an undivided one-fourteenth (1/14) interest in and to the following described tracts or boundaries of land, together with the improvements thereon and appurtenances thereunto belonging, lying and being in Burke's Garden, Tazewell County, Virginia, to-wit:

FIRST: Those four certain tracts or parcels of land containing 48 acres, 113.88 acres, 74.32 acres and 112.37 acres, respectively, being a portion of the lands which were acquired by the male grantor herein by the following deeds, to-wit:

(a) Deed from Elizabeth C. Greever, widow, dated September 12, 1955, and found of record in the Clerk's Office of Tazewell County, Virginia, in Deed Book 244, at page 62.

(b) Deed from A. S. Greever, Jr. and Vern B. Greever, his wife, J. D. Greever and Esther P. Greever, his wife, T. C. Greever and Mable R. Greever, his wife, and Eleanor G. Jones and W. J. Jones, her husband, dated August 26, 1955, and found of record in said Clerk's Office in Deed Book 244, at page 63.

THERE IS EXPRESSLY EXCEPTED AND RESERVED FROM THIS CONVEYANCE THE FOLLOWING PARCELS WHICH HAVE HERETOFORE BEEN CONVEYED TO OTHERS FROM THE 113.88 ACRE TRACT ABOVE MENTIONED, TO-WIT:

(1) A tract of ten acres which was conveyed to J. B. Lambert by the parties of the first part herein by deed dated December 19, 1957, which deed is also found of record in said Clerk's Office in Deed Book 272, at page 90.

(2) A tract of three acres, more or less, which was conveyed to Carl Wilson and Lilly Wilson by the parties of the first part herein by deed dated December 11, 1958, which deed is also found of record in said Clerk's Office in Deed Book 277, at page 246.

(3) A tract of 3.031 acres which was conveyed to Albert Lee Greever and Janet Ohlsson Greever by the parties of the first part herein by deed dated January 22, 1980, and also found of record in said Clerk's Office in Deed Book 467, at page 347.

SECOND: That certain tract or parcel of land containing 132.01 acres, which was acquired by the male grantor herein as follows, to-wit:

(a) Under the will of Emma H. Greever dated October 13, 1954, probated in the Clerk's Office of the Circuit Court of Tazewell County, Virginia, on January 31, 1961, and found of record therein in Will Book 18, at page 116.

(b) Deed from Ida R. Greever, single, dated May 23, 1961, and also found of record in said Clerk's Office in Deed Book 292, at page 232.

EXCEPTING from said 132.01 acres the following tracts, to-wit:

(1) That certain tract or parcel of land containing 1.970 acres, which was conveyed to John W. Cooper and Susan M. Cooper by deed dated May 29, 1987, which said deed is found of record in said Clerk's Office of Tazewell County, Virginia, in Deed

Book 568, at page 652.

(2) That certain tract or parcel of land of 3 acres, which was conveyed to Boyd Greever and Julie Walls by deed dated the 18th day of December, 1990, which said deed is also found of record in said Clerk's Office in Deed Book 615, at page 381.

THIRD: That certain tract or parcel of land containing 29.50 acres, which was conveyed to the male grantor herein by Hattie G. Moss, widow, by deed dated March 30, 1979, which said deed is also found of record in said Clerk's Office in Deed Book 458, at page 120.

FOURTH: That certain tract or parcel of land containing 2.55 acres, which was conveyed to the male grantor herein by Ida R. Greever, single, and Emma H. Greever, single, by deed dated November 20, 1959, which said deed is also found of record in said Clerk's Office in Deed Book 282, at page 564.

Reference is here made to all of the deeds hereinabove mentioned for a more particular description and identification of the respective tracts or parcels of land, the interest in which is hereby conveyed

WITNESS the following signatures and seals.

Edgar P. Greever, (SEAL)
Edgar P. Greever

Lucie G. Greever, (SEAL)
Lucie G. Greever

STATE OF VIRGINIA,
COUNTY OF TAZEWELL, to-wit:

The foregoing instrument was acknowledged before me, this 29th day of September, 1993, by Edgar P. Greever and Lucie G. Greever, his wife.

My commission expires: December 31 1996.

Michele L. Ball
Notary Public

I was commissioned as Michele Lucy Lindsie

VIRGINIA: In the Clerk's Office of Tazewell Circuit Court October 12, 1993
This deed was presented and upon the annexed Certificate of acknowledgment admitted to record at 1:45 P.M. The tax imposed by 58-54.1 of the Code has been paid in the amount of $ Gift

Teste: Betty G. Buchanan Deputy Clerk

#4057

BOOK 642 PAGE 671

THIS DEED OF GIFT, made and entered into, this the 2nd day of ~~August,~~ September 1992, by and between EDGAR P. GREEVER and LUCIE G. GREEVER, his wife, parties of the first part, Grantors, and NANCY GREEVER BROOKS, LUCINDA GREEVER NICHOLSON and ELEANOR GREEVER LEWIS, parties of the second part, Grantees;

W I T N E S S E T H:

That for and in consideration of the love and affection which the parties of the first part have for their three daughters, the parties of the second part herein, the said Edgar P. Greever and Lucie G. Greever, his wife, parties of the first part, do hereby grant, give and convey, with covenants of general warranty of title, unto the said Nancy Greever Brooks, Lucinda Greever Nicholson and Eleanor Greever Lewis, parties of the second part, an undivided one-fourteenth (1/14) interest in and to the following described tracts of boundaries of land, together with the improvements thereon and appurtenances thereunto belonging, lying and being in Burke's Garden, Tazewell County, Virginia, to-wit:

FIRST: Those four certain tracts or parcels of land containing 48 acres, 113.88 acres, 74.32 acres and 112.37 acres, respectively, being a portion of the lands which were acquired by the male grantor herein by the following deeds, to-wit:

(a) Deed from Elizabeth C. Greever, widow, dated September 12, 1955, and found of record in the Clerk's Office of Tazewell County, Virginia, in Deed Book 244, at page 62.

(b) Deed from A.S. Greever, Jr. and Vern B. Greever, his wife, J.D. Greever and Esther P. Greever, his wife, T.C. Greever and Mable R. Greever, his wife, and Eleanor G. Jones and W. J. Jones, her husband, dated August 26, 1955, and found of record in said Clerk's Office in Deed Book 244, at page 63.

THERE IS EXPRESSLY EXCEPTED AND RESERVED FROM THIS CONVEYANCE THE FOLLOWING PARCELS WHICH HAVE HERETOFORE BEEN CONVEYED TO OTHERS FROM THE 113.88 ACRE TRACT ABOVE MENTIONED, TO-WIT:

(1) A tract of ten acres which was conveyed to J.B. Lambert

by the parties of the first part herein by deed dated December 19, 1957, which deed is also found of record in said Clerk's Office in Deed Book 272, at page 90.

(2) A tract of three acres, more or less, which was conveyed to Carl Wilson and Lilly Wilson by the parties of the first part herein by deed dated December 11, 1958, which deed is also found of record in said Clerk's Office in Deed Book 277, at page 246.

(3) A tract of 3.031 acres which was conveyed to Albert Lee Greever and Janet Ohlsson Greever by the parties of the first part herein by deed dated January 22, 1980, and also found of record in said Clerk's Office in Deed Book 467, at page 347.

SECOND: That certain tract of parcel of land containing 132.01 acres, which was acquired by the male grantor herein as follows, to-wit:

(a) Under the will of Emma H. Greever dated October 13, 1954, probated in the Clerk's Office of the Circuit Court of Tazewell County, Virginia, on January 31, 1961, and found of record therein in Will Book 18, at page 116.

(b) Deed from Ida R. Greever, single, dated May 23, 1961, and also found of record in said Clerk's Office in Deed Book 292, at page 232.

EXCEPTING from said 132.01 acres the following tracts, to-wit:

(1) That certain tract or parcel of land containing 1.970 acres, which was conveyed to John W. Cooper and Susan M. Cooper by deed dated May 29, 1987, which said deed is found of record in said Clerk's Office of Tazewell County, Virginia, in Deed Book 568, at page 652.

(2) That certain tract or parcel of land of 3 acres, which was conveyed to Boyd Greever and Julie Walls by deed dated the 18th day of December, 1990, which said deed is also found of record in said Clerk's Office in Deed Book 615, at page 381.

THIRD: That certain tract or parcel of land containing 29.50 acres, which was conveyed to the male grantor herein by Hattie G. Moss, widow, by deed dated March 30, 1979, which said

deed is also found of record in said Clerk's Office in Deed Book 458, at page 120.

FOURTH: That certain tract or parcel of land containing 2.55 acres, which was conveyed to the male grantor herein by Ida R. Greever, single, and Emma H. Greever, single, by deed dated November 20, 1959, which said deed is also found of record in said Clerk's Office in Deed Book 282, at page 564.

Reference is here made to all of the deeds hereinabove mentioned for a more particular description and identification of the respective tracts or parcels of land, the interest in which is hereby conveyed.

WITNESS the following signatures and seals.

Edgar P. Greever (SEAL)
Edgar P. Greever

Lucie G. Greever (SEAL)
Lucie G. Greever

STATE OF VIRGINIA.

COUNTY OF TAZEWELL, to-wit:

The foregoing instrument was acknowledged before me, this 3rd day of ~~August~~ September, 1992, by Edgar P. Greever and Lucie G. Greever, his wife.

My commission expires: August 31, 1993

Marci C. Payne
Notary Public

I was commissioned as Marci L. Conley.

VIRGINIA: In the Clerk's Office of Tazewall Circuit Court SEPTEMBER 15, 19 92
This deed was presented and upon the annexed Certificate of acknowledgment admitted to record at 10:15 A. M. The tax imposed by 58-54.1 of the Code has been paid in the amount of $ DEED OF GIFT.

Teste: Deputy Clerk

Mailed To: Edgar P. Greever
Box 456
Burkes Garden, Va. 24608
11/15/91

BOOK 627 PAGE 650

THIS DEED OF GIFT, made and entered into, this the 9th day of October, 1991, by and between EDGAR P. GREEVER and LUCIE G. GREEVER, his wife, parties of the first part, Grantors, and NANCY GREEVER BROOKS, LUCINDA GREEVER NICHOLSON and ELEANOR GREEVER LEWIS, parties of the second part, Grantees;

W I T N E S S E T H:

That for and in consideration of the love and affection which the parties of the first part have for their three daughters, the parties of the second part herein, the said Edgar P. Greever and Lucie G. Greever, his wife, parties of the first part, do hereby grant, give and convey, with covenants of general warranty of title, unto the said Nancy Greever Brooks, Lucinda Greever Nicholson and Eleanor Greever Lewis, parties of the second part, an undivided one-fourteenth (1/14) interest in and to the following described tracts or boundaries of land, together with the improvements thereon and appurtenances thereunto belonging, lying and being in Burke's Garden, Tazewell County, Virginia, to-wit:

FIRST: Those four certain tracts or parcels of land containing 48 acres, 113.88 acres, 74.32 acres and 112.37 acres, respectively, being a portion of the lands which were acquired by the male grantor herein by the following deeds, to-wit:

(a) Deed from Elizabeth C. Greever, widow, dated September 12, 1955, and found of record in the Clerk's Office of Tazewell County, Virginia, in Deed Book 244, at page 62.

(b) Deed from A. S. Greever, Jr. and Vern B. Greever, his wife, J. D. Greever and Esther P. Greever, his wife, T. C. Greever and Mable R. Greever, his wife, and Eleanor G. Jones and W. J. Jones, her husband, dated August 26, 1955, and found of record in said Clerk's Office in Deed Book 244, at page 63.

THERE IS EXPRESSLY EXCEPTED AND RESERVED FROM THIS CONVEYANCE THE FOLLOWING PARCELS WHICH HAVE HERETOFORE BEEN

CONVEYED TO OTHERS FROM THE 113.88 ACRE TRACT ABOVE MENTIONED, TO-WIT:

(1) A tract of ten acres which was conveyed to J. B. Lambert by the parties of the first part herein by deed dated December 19, 1957, which deed is also found of record in said Clerk's Office in Deed Book 272, at page 90.

(2) A tract of three acres, more or less, which was conveyed to Carl Wilson and Lilly Wilson by the parties of the first part herein by deed dated December 11, 1958, which deed is also found of record in said Clerk's Office in Deed Book 277, at page 246.

(3) A tract of 3.031 acres which was conveyed to Albert Lee Greever and Janet Ohlsson Greever by the parties of the first part herein by deed dated January 22, 1980, and also found of record in said Clerk's Office in Deed Book 467, at page 347.

SECOND: That certain tract or parcel of land containing 132.01 acres, which was acquired by the male grantor herein as follows, to-wit:

(a) Under the will of Emma H. Greever dated October 13, 1954, probated in the Clerk's Office of the Circuit Court of Tazewell County, Virginia, on January 31, 1961, and found of record therein in Will Book 18, at page 116.

(b) Deed from Ida R. Greever, single, dated May 23, 1961, and also found of record in said Clerk's Office in Deed Book 292, at page 232.

EXCEPTING from said 132.01 acres the following tracts, to-wit:

(1) That certain tract or parcel of land containing 1.970 acres, which was conveyed to John W. Cooper and Susan M. Cooper by deed dated May 29, 1987, which said deed is found of record in said Clerk's Office of Tazewell County, Virginia, in Deed Book 568, at page 652.

(2) That certain tract or parcel of land of 3 acres, which

was conveyed to Boyd Greever and Julie Walls by deed dated the 18th day of December, 1990, which said deed is also found of record in said Clerk's Office in Deed Book 615, at page 381.

THIRD: That certain tract or parcel of land containing 29.50 acres, which was conveyed to the male grantor herein by Hattie G. Moss, widow, by deed dated March 30, 1979, which said deed is also found of record in said Clerk's Office in Deed Book 458, at page 120.

FOURTH: That certain tract or parcel of land containing 2.55 acres, which was conveyed to the male grantor herein by Ida R. Greever, single, and Emma H. Greever, single, by deed dated November 20, 1959, which said deed is also found of record in said Clerk's Office in Deed Book 282, at page 564.

Reference is here made to all of the deeds hereinabove mentioned for a more particular description and identification of the respective tracts or parcels of land, the interest in which is hereby conveyed

WITNESS the following signatures and seals.

Edgar P. Greever, (SEAL)
Edgar P. Greever

Lucie G. Greever, (SEAL)
Lucie G. Greever

STATE OF VIRGINIA,

COUNTY OF TAZEWELL, to-wit:

The foregoing instrument was acknowledged before me, this 1st day of ~~October~~ November, 1991, by Edgar P. Greever and Lucie G. Greever, his wife.

My commission expires: 7-20-92.

Vickie D. Alford
Notary Public

VIRGINIA: In the Clerk's Office of Tazewell Circuit Court NOVEMBER 6, 19 91
This deed was presented and upon the annexed Certificate of acknowledgment admitted to record at 10:29 A. M. The tax imposed by 58-54.1 of the Code has been paid in the amount of $ DEED OF GIFT.

Teste: Deputy Clerk

Mailed To: Edgar P. Greever
Box 456
Burkes Garden, Va. 24608
11/15/90

THIS DEED OF GIFT, made and entered into, this the 3rd day of October, 1990, by and between EDGAR P. GREEVER and LUCIE G. GREEVER, his wife, parties of the first part, Grantors, and NANCY GREEVER BROOKS, LUCINDA GREEVER NICHOLSON and ELEANOR GREEVER LEWIS, parties of the second part, Grantees;

W I T N E S S E T H:

That for and in consideration of the love and affection which the parties of the first part have for their three daughters, the parties of the second part herein, the said Edgar P. Greever and Lucie G. Greever, his wife, parties of the first part, do hereby grant, give and convey, with covenants of general warranty of title, unto the said Nancy Greever Brooks, Lucinda Greever Nicholson and Eleanor Greever Lewis, parties of the second part, an undivided one-fourteenth (1/14) interest in and to the following described tracts or boundaries of land, together with the improvements thereon and appurtenances thereunto belonging, lying and being in Burke's Garden, Tazewell County, Virginia, to-wit:

FIRST: Those four certain tracts or parcels of land containing 48 acres, 113.88 acres, 74.32 acres and 112.37 acres, respectively, being a portion of the lands which were acquired by the male grantor herein by the following deeds, to-wit:

(a) Deed from Elizabeth C. Greever, widow, dated September 12, 1955, and found of record in the Clerk's Office of Tazewell County, Virginia, in Deed Book 244, at page 62.

(b) Deed from A. S. Greever, Jr. and Vern B. Greever, his wife, J. D. Greever and Esther P. Greever, his wife, T. C. Greever and Mable R. Greever, his wife, and Eleanor G. Jones and W. J. Jones, her husband, dated August 26, 1955, and found of record in said Clerk's Office in Deed Book 244, at page 63.

THERE IS EXPRESSLY EXCEPTED AND RESERVED FROM THIS CONVEYANCE THE FOLLOWING PARCELS WHICH HAVE HERETOFORE BEEN

CONVEYED TO OTHERS FROM THE 113.88 ACRE TRACT ABOVE MENTIONED, TO-WIT:

(1) A tract of ten acres which was conveyed to J. B. Lambert by the parties of the first part herein by deed dated December 19, 1957, which deed is also found of record in said Clerk's Office in Deed Book 272, at page 90.

(2) A tract of three acres, more or less, which was conveyed to Carl Wilson and Lilly Wilson by the parties of the first part herein by deed dated December 11, 1958, which deed is also found of record in said Clerk's Office in Deed Book 277, at page 246.

(3) A tract of 3.031 acres which was conveyed to Albert Lee Greever and Janet Ohlsson Greever by the parties of the first part herein by deed dated January 22, 1980, and also found of record in said Clerk's Office in Deed Book 467, at page 347.

SECOND: That certain tract or parcel of land containing 132.01 acres, which was acquired by the male grantor herein as follows, to-wit:

(a) Under the will of Emma H. Greever dated October 13, 1954, probated in the Clerk's Office of the Circuit Court of Tazewell County, Virginia, on January 31, 1961, and found of record therein Will Book 18, at page 116.

(b) Deed from Ida R. Greever, single, dated May 23, 1961, and also found of record in said Clerk's Office in Deed Book 292, at page 232.

EXCEPTING from said 132.01 acres that certain tract or parcel of 1.970 acres which was conveyed to John W. Cooper and Susan M. Cooper by deed dated May 29, 1987, which said deed is found of record in said Clerk's Office of Tazewell County, Virginia, in Deed Book 568, at page 652.

THIRD: That certain tract or parcel of land containing 29.50 acres, which was conveyed to the male grantor herein by Hattie G. Moss, widow, by deed dated March 30, 1979, which said

deed is also found of record in said Clerk's Office in Deed Book 458, at page 120.

FOURTH: That certain tract or parcel of land containing 2.55 acres which was conveyed to the male grantor herein by Ida R. Greever, single, and Emma H. Greever, single, by deed dated November 20, 1959, which said deed is also found of record in said Clerk's Office in Deed Book 282, at page 564.

Reference is here made to all of the deeds hereinabove mentioned for a more particular description and identification of the respective tracts or parcels of land, the interest in which is hereby conveyed.

WITNESS the following signatures and seals.

Edgar P. Greever, (SEAL)
Edgar P. Greever

Lucie G. Greever, (SEAL)
Lucie G. Greever

STATE OF VIRGINIA,
COUNTY OF TAZEWELL, to-wit:

The foregoing instrument was acknowledged before me, this 29th day of October, 1990, by Edgar P. Greever and Lucie G. Greever, his wife.

My commission expires: 7-20-92.

Vicki D. Alford
Notary Public

VIRGINIA: In the Clerk's Office of Tazewell Circuit Court OCTOBER 30, 19 90
This deed was presented and upon the annexed Certificate of acknowledgment admitted to record at 10:51 A. M. The tax imposed by 58-54.1 of the Code has been paid in the amount of $ DEED OF GIFT.

Teste:

Deputy Clerk

Mailed To: Edgar P. Greever
P. O. Box 456
Burkes Garden, Va. 24608
11/9/89

THIS DEED OF GIFT, made and entered into, this the 11th day of September, 1989, by and between EDGAR P. GREEVER and LUCIE G. GREEVER, his wife, parties of the first part, and NANCY GREEVER BROOKS, LUCINDA GREEVER NICHOLSON and ELEANOR GREEVER LEWIS, parties of the second part;

W I T N E S S E T H:

That for and in consideration of the love and affection which the parties of the first part have for their three daughters, the parties of the second part herein, the said Edgar P. Greever and Lucie G. Greever, his wife, parties of the first part, do hereby grant, give and convey, with covenants of general warranty of title, unto the said Nancy Greever Brooks, Lucinda Greever Nicholson and Eleanor Greever Lewis, parties of the second part, an undivided one-fourteenth (1/14) interest in and to the following described tracts or boundaries of land, together with the improvements thereon and appurtenances thereunto belonging, lying and being in Burkes Garden, Tazewell County, Virginia, to-wit:

FIRST: Those four certain tracts or parcels of land containing 48 acres, 113.88 acres, 74.32 acres and 112.37 acres, respectively, being a portion of the lands which were acquired by the male grantor herein by the following deeds, to-wit:

(a) Deed from Elizabeth C. Greever, widow, dated September 12, 1955, and found of record in the Clerk's Office of Tazewell County, Virginia, in Deed Book 244, at page 62.

(b) Deed from A. S. Greever, Jr. and Vern B. Greever, his wife, J. D. Greever and Esther P. Greever, his wife, T. C. Greever and Mable R. Greever, his wife, and Eleanor G. Jones and W. J. Jones, her husband, dated August 26, 1955, and found of record in said Clerk's Office in Deed Book 244, at page 63.

THERE IS EXPRESSLY EXCEPTED AND RESERVED FROM THIS CONVEYANCE THE FOLLOWING PARCELS WHICH HAVE HERETOFORE BEEN

CONVEYED TO OTHERS FROM THE 113.88 ACRE TRACT ABOVE MENTIONED, to-wit:

(1) A tract of ten acres which was conveyed to J. B. Lambert by the parties of the first part herein by deed dated December 19, 1957, which deed is also found of record in said Clerk's Office in Deed Book 272, at page 90.

(2) A tract of three acres, more or less, which was conveyed to Carl Wilson and Lilly Wilson by the parties of the first part herein by deed dated December 11, 1958, which deed is also found of record in said Clerk's Office in Deed Book 277, at page 246.

(3) A tract of 3.031 acres which was conveyed to Albert Lee Greever and Janet Ohlsson Greever by the parties of the first part herein by deed dated January 22, 1980, and also found of record in said Clerk's Office in Deed Book 467, at page 347.

SECOND: That certain tract or parcel of land containing 132.01 acres, which was acquired by the male grantor herein as follows, to-wit:

(a) Under the will of Emma H. Greever dated October 13, 1954, probated in the Clerk's Office of the Circuit Court of Tazewell County, Virginia, on January 31, 1961, and found of record therein in Will Book 18, at page 116.

(b) Deed from Ida R. Greever, single, dated May 23, 1961, and also found of record in said Clerk's Office in Deed Book 292, at page 232.

EXCEPTING from said 132.01 acres that certain tract or parcel of 1.970 acres which was conveyed to John W. Cooper and Susan M. Cooper by deed dated May 29, 1987, which said deed is found of record in said Clerk's Office of Tazewell County, Virginia, in Deed Book 568, at page 652.

THIRD: That certain tract or parcel of land containing 29.50 acres, which was conveyed to the male grantor herein by Hattie G. Moss, widow, by deed dated March 30, 1979, which said

deed is also found of record in said Clerk's Office in Deed Book 458, at page 120.

FOURTH: That certain tract or parcel of land containing 2.55 acres which was conveyed to the male grantor herein by Ida R. Greever, single, and Emma H. Greever, single, by deed dated November 20, 1959, which said deed is also found of record in said Clerk's Office in Deed Book 282, at page 564.

Reference is here made to all of the deeds hereinabove mentioned for a more particular description and identification of the respective tracts or parcels of land, the interest in which is hereby conveyed.

WITNESS the following signatures and seals.

Edgar P. Greever, (SEAL)
Edgar P. Greever

Lucie G. Greever, (SEAL)
Lucie G. Greever

STATE OF VIRGINIA,

COUNTY OF TAZEWELL, to-wit:

The foregoing instrument was acknowledged before me, this 27th day of ~~September~~ October, 1989, by Edgar P. Greever and Lucie G. Greever, his wife.

My commission expires: May 15, 1993.

Martha N. Quesenberry
Notary Public

VIRGINIA: In the Clerk's Office of Tazewell Circuit Court October 30, 1989
This deed was presented and upon the annexed Certificate of acknowledgment admitted to record at 3:00 P.M. The tax imposed by 58-54.1 of the Code has been paid in the amount of $ Exempt.

Teste: [illegible] Deputy Clerk

MAILED TO: MR. EDGAR P. GREEVER
BOX 456
BURKES GARDEN, VA 24608
7/21/88

BOOK 580 PAGE 462

THIS DEED OF GIFT, made and entered into, this the 14th day of June, 1988, by and between EDGAR P. GREEVER and LUCIE G. GREEVER, his wife, parties of the first part, and NANCY GREEVER BROOKS, LUCINDA GILLESPIE GREEVER and ELEANOR ELIZABETH GREEVER, parties of the second part;

W I T N E S S E T H:

That for and in consideration of the love and affection which the parties of the first part have for their three daughters, the parties of the second part herein, the said Edgar P. Greever and Lucie G. Greever, his wife, parties of the first part, do hereby grant, give and convey, with covenants of general warranty of title, unto the said Nancy Greever Brooks, Lucinda Gillespie Greever and Eleanor Elizabeth Greever, parties of the second part, and undivided one-fourteenth (1/14) interest in and to the following described tracts or boundaries of land, together with the improvements thereon and appurtenances thereunto belonging, lying and being in Burkes Garden, Tazewell County, Virginia, to-wit:

FIRST: Those four certain tracts or parcels of land containing 48 acres, 113.88 acres, 74.32 acres and 112.37 acres, respectively, being a portion of the lands which were acquired by the male grantor herein by the following deeds, to-wit:

(a) Deed from Elizabeth C. Greever, widow, dated September 12, 1955, and found of record in the Clerk's Office of Tazewell County, Virginia, in Deed Book 244, at page 62.

(b) Deed from A. S. Greever, Jr. and Vern B. Greever, his wife, J. D. Greever and Esther P. Greever, his wife, T. C. Greever and Mable R. Greever, his wife, and Eleanor G. Jones and W. J. Jones, her husband, dated August 26, 1955, and found of record in said Clerk's Office in Deed Book 244, at page 63.

THERE IS EXPRESSLY EXCEPTED AND RESERVED FROM THIS CONVEYANCE THE FOLLOWING PARCELS WHICH HAVE HERETOFORE BEEN CONVEYED TO OTHERS FROM THE 113.88 ACRE TRACT ABOVE MENTIONED, to-wit:

(1) A tract of ten acres which was conveyed to J. B. Lambert by the parties of the first part herein by deed dated December 19, 1957, which deed is also found of record in said Clerk's Office in Deed Book 272, at page 90.

(2) A tract of three acres, more or less, which was conveyed to Carl Wilson and Lilly Wilson by the parties of the first part herein by deed dated December 11, 1958, which deed is also found of record in said Clerk's Office in Deed Book 277, at page 246.

(3) A tract of 3.031 acres which was conveyed to Albert Lee Greever and Janet Ohlsson Greever by the parties of the first part herein by deed dated January 22, 1980, and also found of record in said Clerk's Office in Deed Book 467, at page 347.

SECOND: That certain tract or parcel of land containing 132.01 acres, which was acquired by the male grantor herein as follows, to-wit:

(a) Under the will of Emma H. Greever dated October 13, 1954, probated in the Clerk's Office of the Circuit Court of Tazewell County, Virginia, on January 31, 1961, and found of record therein in Will Book 18, at page 116.

(b) Deed from Ida R. Greever, single, dated May 23, 1961, and also found of record in said Clerk's Office in Deed Book 292, at page 232.

THIRD: That certain tract or parcel of land containing 29.50 acres, which was conveyed to the male grantor herein by Hattie G. Moss, widow, by deed dated March 30, 1979, which said deed is also found of record in said Clerk's Office in Deed Book 458, at page 120.

FOURTH: That certain tract or parcel of land containing 2.55 acres which was conveyed to the male grantor herein by Ida R. Greever, single, and Emma H. Greever, single, by deed dated November 20, 1959, which said deed is also found of record in said Clerk's Office in Deed Book 282, at page 564.

Reference is here made to all of the deeds hereinabove mentioned for a more particular description and identification of the respective tracts or parcels of land, the interest in which is hereby conveyed.

WITNESS the following signatures and seals.

Edgar P. Greever (SEAL)

Lucie G. Greever (SEAL)

STATE OF VIRGINIA,

COUNTY OF TAZEWELL, to-wit:

The foregoing instrument was acknowledged before me, this 5th day of July, 1988, by Edgar P. Greever and Lucie G. Greever, his wife.

My commission expires June 18, 1989.

Beverly B. Hayes
Notary Public

I was commissioned as Beverly K. Bowman

VIRGINIA: In the Clerk's Office of Tazewell Circuit Court July 6 1988
This deed was presented and upon the annexed Certificate of acknowledgment admitted to record at 10:24 A.M. The tax imposed by 58-54.1 of the Code has been paid in the amount of $ Affect of life.

Teste: [illegible] Deputy Clerk

861

elivered to:
dgar P.
reever
6/13/61

BOOK 292 PAGE 232 THIS DEED, made and entered into on this the 23rd day of May, 1961, by and between Ida R. Greever, single, party of the first part, and Edgar P. Greever, party of the second part,

W I T N E S S E T H :

That for and in consideration of the sum of Ten Dollars ($10.00), cash in hand paid, and other good and valuable consideration, the receipt of which is hereby acknowledged, the said Ida R. Greever, single, party of the first part, does hereby bargain, sell, grant and convey, with covenants of general warranty of title and freedom from encumbrances, subject to the life estate hereinafter reserved, unto the said Edgar P. Greever, party of the second part, all of her one-half undivided interest in and to that certain tract or parcel of land, with the improvements thereon and the appurtenances thereunto belonging, situate in Burkes Garden in Tazewell County, Virginia, containing approximately 134.56 acres, and being the same tract which was conveyed to the said Ida R. Greever and Emma H. Greever by E. L. Greever, et al, by a certain deed of partition dated August 26, 1926, and found of record in the Clerk's Office of the Circuit Court of Tazewell County, Virginia, in Deed Book 105, at page 408, which tract is therein described as follows, to-wit:

"Beginning at a chestnut stump near the top of Banks' Ridge, a corner of land of Elmer Rhudy; and thence by three lines of said A. S. Greever 113.88 acre tract, South 65° 26' West 203.6 feet to a station by a fence near top of said ridge; thence North 20° 28' West 1194 feet to a station; thence North 30° 28' West 1572.3 feet, passing a fence post at 1204.1 feet, a corner to said A. S. Greever 113.88 acre tract, and corner of E. Margaret Copenhaver 74.32 acre tract hereinafter conveyed, and the remainder of the way with the fence and line of said Copenhaver 74.32 acre tract to a station at a fence; thence South 61° 50' West 852.0 feet to a chestnut at fence, a corner to land of Meek McGinnis; thence leaving said 74.32 acre tract and by land of said McGinnis, North 35° 33' West 849.5

feet with said fence to a station in the County Road; thence along said road and with lands of the Lutheran Church, of Meek McGinnis and of William and Charles Moss, five lines as follows, North 48° 58' East 656.6 feet to a station in said road; thence North 17° 36' East 55.9 feet to a station in said road; thence North 23° 55' West 154.0 feet to a station in said road on a bridge; thence North 31° 10' West 269.1 feet to a station in said road; thence North 35° 40' West 1796.2 feet to a station in said road opposite a gate opening to a private road leading to lands of Moss, Peery, Cooper and others; thence with said road, North 57° 22' East 882.7 feet to a station in said road, a corner to the said 30 acre tract hereinafter conveyed to the said Hattie B. Moss; thence leaving said road, and with two lines of said 30 acre tract, South 32° 38' East 1991.1 feet to a station, and North 57° 22' East 273.8 feet to a station, a corner to the said 35.16 acre tract hereinafter conveyed to the

said E. L. Greever, thence leaving said 30 acre tract and with two lines of said 35.16 acre tract, South 32° 38' East 530.5 feet to a station and North 57° 22' East 62.4 feet to a fence post, a corner to land of John Rhudy; thence leaving said 35.16 acre tract and with line of said John Rhudy land, South 35° 16' East 1914.5 feet to a station at corner of fence, a corner to land of said John Rhudy; thence with said John Rhudy land, South 65° 19' West 684.3 feet to a station at corner of fence; thence with said John Rhudy land and with land of said Elmer Rhudy and passing a corner of said Elmer Rhudy land, South 36° 46' East 1769 feet to a chestnut, corner of said Elmer Rhudy land; and thence with said Elmer Rhudy land, South 64° 32' West 606.8 feet to the beginning, and containing one hundred and thirty-four and 56/100 (134.56 A.) acres."

There is excepted and reserved from this conveyance a certain tract of land containing 2.55 acres which was conveyed to the said Edgar P. Greever by Ida R. Greever and Emma H. Greever by deed dated November 20, 1959, and found of record in Deed Book 282, at page 564, in said Clerk's Office.

The party of the first part hereby expressly reserves unto herself an estate for life in the one-half undivided interest in the tract of land hereinabove described. The said Emma H. Greever, deceased, by her last will and testament gave and devised unto the said Edgar P. Greever, party of the second part, her one-half undivided interest in the above described tract of land subject, however, to a life estate of Ida R. Greever. The said Ida R. Greever therefore retains a life estate in the entire tract hereinabove described.

Witness the following signature and seal.

Ida R. Greever (SEAL)

State of Virginia,
County of Tazewell, to-wit:

I, Hugh E. Cox, Notary Public in and for the County and State aforesaid, do hereby certify that Ida R. Greever, single, whose name is signed to the foregoing writing, bearing date the 23rd day of May, 1961, has acknowledged the same before me in my County aforesaid.

Given under my hand this the 27th day of May, 1961.

My commission expires October 27 1964.

Hugh E. Cox
Notary Public

VIRGINIA: In the Clerk's Office of Tazewell Circuit Court May 29 1961
This deed was presented and upon the annexed Certificate of acknowledgment admitted to record at 2:00 P.M.
Teste: R P Hankins Deputy Clerk

Thereupon Narcie Mary Harless qualified as such Executrix by taking and subscribing the oath required by law and by entering into bond in the penalty of Sixteen Hundred ($1600.00) Dollars, without surety, said bond being payable and conditioned according to law, the said testator having requested in said will that no security be required of her.

Upon motion of Narcie Mary Harless, Executrix as aforesaid, James P. Farmer, Leslie Fletcher, Jr., E. W. Lindsey and Tom Patrick, Jr., any three of whom may act, are hereby appointed appraisers of said estate, who shall, after being duly sworn, appraise such of the effects of said decedent as shall be produced before them and make return thereof as required by law.

Given under my hand this 27th day of January, 1961.

RHEA F. MOORE, JR., Clerk

By: Elizabeth Belcher, Deputy Clerk.

VIRGINIA:

In the Clerk's Office of the Circuit Court of the County of Tazewell:

Estate of JAMES R. HARLESS, DECEASED.

I, the undersigned, who this day qualified before the Clerk of the Circuit Court of the County of Tazewell as Executrix under the Last Will and Testament of James R. Harless, deceased, late of the County of Tazewell, Virginia, on my oath do say that I have made diligent inquiry and that I believe the following to be a true and correct list together with the ages and the addresses of the heirs of my decedent, James R. Harless, who died testate on January 26, 1961.

LIST OF HEIRS

NAME	Approximate AGE	RELATIONSHIP	ADDRESS
Roy Dewey Harless	64	Brother	Meade, W. Va.
Maggie Harless Hicks	59	Sister	Richlands, Va.
Viola Harless Sargent	57	Sister	Richlands, Va.
Narcie Mary Harless	55	Sister	Richlands, Va.
Dorothy Proffitt Clark	40	Niece	_____, New Jersey
Agnes Proffitt_____	39	Niece	New Orleans, La.

(Last above two being children of Ida Harless Proffitt, a deceased sister)

Given under my hand, this 27th day of January, 1961.

Narcie Mary Harless, Executrix

Subscribed and sworn to before me, this 27th day of January, 1961.

RHEA F. MOORE, JR., Clerk

By: Elizabeth Belcher, Deputy Clerk.

---oOo---

06

IN RE: WILL OF EMMA H. GREEVER, DECEASED.

October 13, 1954

This is my Will & wish -

That my expenses for illness and burial be paid.

I will to my sister, Hattie Greever Moss, Burke's Garden, Virginia, Two hundred, seventy six (276) shares in Vance Co., Chilhowie, Virginia

I Will to my sister, Ida R. Greever, Burke's Garden, Virginia, eight (8) shares in Bank of Chilhowie, Virginia.

I Will my share in old home and realestate to my sister, Ida R Greever, Burke's Garden, Virginia,

~~I Will that at the death of Ida R. Greever, my sister, this property,~~ the old home & land, go to Edgar P. Greever, my nephew, Burke's Garden, Va.

I Will all personal belongings and money (if any) to my sister Ida to be divided with my neices and nephews, as she sees fit.

This is my Will.

Signed

Emma H. Greever,

Burke's Garden,

Virginia.

Oct. 13, 1954

VIRGINIA: In the Clerk's Office of the Circuit Court of the County of Tazewell, the 31st day of January, 1961.

IN RE: PROBATE OF LAST WILL AND TESTAMENT OF EMMA H. GREEVER (UNMARRIED), DECEASED.

A writing dated the 13th day of October, 1954, without any subscribing witnesses thereto, purporting to be the last will and testament of Emma H. Greever, deceased, was on the 20th day of January, 1961, presented in the Clerk's Office of the Circuit Court of Tazewell County, Virginia, and offered for probate. It appearing from the evidence introduced that the said Emma H. Greever died on the 9th day of January, 1961; that at the time of her death she was a resident of Tazewell County, Virginia, and owned an interest in real estate and personal property therein. Thereupon came A. L. McCall, Vice President of Tazewell National Bank, a credible, disinterested witness, who, after being duly sworn, stated that he was familiar with the handwriting of the said Emma H. Greever, and had seen her write, and that he verily believed the said writing and the signature thereto to be wholly in the handwriting of the said Emma H. Greever, by her own hand; and on the 21st day of January, 1961, came C. E. Hankla, Cashier of the Farmers Bank of Clinch Valley, a credible, disinterested witness, who, after being duly sworn, stated that he was familiar with the handwriting of the said Emma H. Greever, and had seen her write, and that he verily believed the said writing and the signature thereto to be wholly in the handwriting of the said Emma H. Greever, by her own hand. It appearing that the said writing was properly executed and that the same has been legally proven, the said writing is hereby established and admitted to probate as and for the last will and testament of Emma H. Greever, deceased.

There being no Executor named in said will, upon motion of Ida R. Greever, sister, Edgar P. Greever is hereby appointed Administrator with the Will Annexed of the Estate of Emma H. Greever, deceased. Whereupon, the said Edgar P. Greever, on this the 31st day of January, 1961, qualified as such Administrator with the Will Annexed of the Estate of Emma H. Greever by taking and subscribing the oath required by law, and by entering into bond in the penalty of Seventy-five Thousand ($75,000.00) Dollars, with Alex Meek his approved surety thereon.

Upon motion of said Edgar P. Greever, Administrator as aforesaid, Alex Meek, Walter C. Baugh, C. E. Hankla and J. P. Buchanan, are hereby appointed appraisers of said estate, who shall, after being duly sworn, appraise such of the effects of the said decedent as shall be produced before them and make return thereof as required by law.

Given under my hand this the 31st day of January, 1961.

RHEA F. MOORE, JR., Clerk

By: Elizabeth Bolen, Deputy Clerk.

VIRGINIA:

In the Clerk's Office of the Circuit Court of the County of Tazewell:

Estate of Emma H. Greever, deceased.

I, the undersigned, who this day qualified before the Clerk of the Circuit Court of the County of Tazewell as Administrator with the Will Annexed of the estate of Emma H. Greever, deceased, late of the County of Tazewell, Virginia, on my oath do say that I have made diligent inquiry and that I believe the following to be a true and correct list together with the ages and the addresses of the heirs of my decedent, Emma H. Greever, who died testate on Jan. 9, 1961.

LIST OF HEIRS

NAME	Approximate AGE	RELATIONSHIP	ADDRESS
Dr. W. H. Greever	90	Brother	Columbia, S. C.
Ida R. Greever	87	Sister	Burke's Garden, Va.
Hattie G. Moss	79	Sister	Burke's Garden, Va.
A. S. Greever, Jr.	52	Nephew	Atlanta, Ga.
J. D. Greever	50	Nephew	Garden City, New York
T. C. Greever	48	Nephew	Roanoke, Va.
Eleanor Jones	45	Niece	Tazewell, Va.
Edgar P. Greever	41	Nephew	Burke's Garden, Va.
(Children of A. S. Greever, a deceased brother)			
Margaret Sue Copenhaver	47	Niece	Richmond, Va.
Helen C. Hanes	42	Niece	Winston Salem, N. C.
(Children of Margaret Greever Copenhaver, a deceased sister)			

Given under my hand, this 31st day of January, 1961.

Edgar P. Greever
Administrator with the Will Annexed.

Subscribed and sworn to before me, this 31st day of January, 1961.

RHEA F. MOORE, JR., Clerk

By: Elizabeth Belcher, Deputy Clerk.

---oOo---

07

VIRGINIA: In the Clerk's Office of the Circuit Court of the County of Tazewell:

Estate of Etter Anders, deceased.

I, the undersigned, Sheriff of Tazewell County, Virginia, and as such, Administrator of the Estate of Etter Anders, deceased, late of the County of Tazewell, Virginia, on my oath do say that I have made diligent inquiry and that I believe the following to be a true and correct list together with the ages and the addresses of the heirs of my decedent, Etter Anders, who died intestate on 22 July, 1960.

LIST OF HEIRS

NAME	Approximate AGE	RELATIONSHIP	ADDRESS
Cleveland Anders	65	Widower	Richlands, Virginia
Colonel Anders	42	Son	East Lake, Ohio
Nora Anders Willard	36	Daughter	Stoneville, N. C.
Terry Anders	35	Son	Richlands, Virginia
Kyle Anders	33	Son	Richlands, Virginia
James Anders	32	Son	Richlands, Virginia
Ruth Anders Overbay	30	Daughter	Winston-Salem, N. C.
Polly Anders	26	Daughter	Stoneville, N. C.
Early Anders	24	Son	Winston-Salem, N. C.
Elmer Anders	22	Son	Winston-Salem, N. C.
Roger Anders	20	Son	Winston-Salem, N. C.

#567

THIS DEED OF GIFT, made and entered into, this the 4th day of February, 1997, by and between **EDGAR P. GREEVER** and **LUCIE G. GREEVER**, his wife, Grantors, and **CHARLES R. LEVISON** and **NAOMI G. LEVISON**, his wife, as tenants by the entirety, Grantees;

W I T N E S S E T H:

That for and in consideration of the love and affection of the Grantors for the Grantees, the said Edgar P. Greever and Lucie G. Greever, his wife, Grantors, do hereby give, grant and convey, with covenants of general warranty of title, unto the said Charles R. Levison and Naomi G. Levison, his wife, Grantees, as tenants by the entirety, with full and complete rights of survivorship as at common law, all of that certain lot or parcel of land situate in Burkes Garden, Tazewell County, Virginia, west of the lands of Jacob Leach Rhudy, Jr. and more particularly bounded and described as follows, to-wit:

> BEGINNING at a point on the boundary line between the Grantors and the said Jacob Leach Rhudy, Jr., which point is the northeast corner of a certain lot containing 1.4894 acres this day conveyed by the Grantors to John W. Cooper and wife, thence with the said Rhudy boundary line, N. 35° 16' 00" W. 483.13 feet to a fence post; thence S. 57° 35' 04" W. 67.55 feet to a corner fence; thence leaving the Rhudy line and through the lands of the Grantors, S. 52° 10' 43" W. 206.45 feet to a point; thence S. 30° 54' 24" E. 292.37 feet to a point; thence S. 02° 34' 40" E. 176.25 feet to a point in the middle of a 20 foot right of way; thence with the midline of said 20-foot right of way, N. 87° 25' 20" E. 95.01 feet to a point, being the northwest corner of said 1.4894 acre lot this day conveyed by the Grantors to the said John W. Cooper and wife; thence with the north line of the Cooper lot, N. 52° 10' 42 E. 311.47 feet to the point of BEGINNING, containing 3.4735 acres, more or less, which parcel is shown as "Ron & Naomi" on the plat attached hereto as a part hereof.

This instrument prepared by Gillespie, Hart, Altizer & Whitesell, P.C.

As appurtenant to the lot herein conveyed, the Grantors further give, grant and convey unto the Grantees a road right-of-way 20 feet in width from Virginia State Route 727, to the above described lot, which road right-of-way is to be used by the Grantees jointly with the

Grantors and with the said John W. Cooper and wife, said road right-of-way being more fully described by metes and bounds in a certain deed dated May 29, 1987, of record in the Clerk's Office of Tazewell County, Virginia, in Deed Book 586, at page 652, by which the Grantors conveyed unto the said John W. Cooper and Susan Cooper, his wife, a lot containing 1.9708 acres, more or less.

The above described lot was acquired by Edgar P. Greever, of the Grantors, under the terms and provisions of the Will of Emma H. Greever duly probated and of record in said Clerk's Office in Will Book 18, at page 116; and by deed from Ida R. Greever dated May 23, 1961, of record in said Clerk's Office in Deed Book 292, at page 232.

The Grantors do hereby expressly reserve for themselves, their heirs or devisees the exclusive right and option to repurchase the above described lot with any improvements placed thereon in the event the Grantees, their heirs or devisees should elect to sell the same. In such event, the Grantees or their heirs or devisees shall give the said Edgar P. Greever, of the Grantors, or his heirs or devisees, written notice of a bona fide offer of purchase from a third party and the said Edgar P. Greever, or his heirs or devisees shall have the right within 30 days from receipt of such notice to purchase said lot and improvements at the purchase price as stated in the bona fide offer. This option shall be exercised by written notice, mailed within 30 days from receipt of notice from the owner of the desire to sell, and agreeing to pay the price offered by a bona fide purchaser.

This instrument prepared by Gillespie, Hart, Altizer & Whitesell, P.C.

WITNESS the following signatures and seals.

Edgar P. Greever, (SEAL)
Edgar P. Greever

Lucie G. Greever, (SEAL)
Lucie G. Greever

State of Virginia,

County of Tazewell, to-wit:

The foregoing instrument was acknowledged before me on this 10th day of February, 1997, by Edgar P. Greever and Lucie G. Greever, his wife.

My commission expires August 31, 1997.

Tammy L. Shelton
Notary Public

INSTRUMENT #9700567
RECORDED IN THE CLERK'S OFFICE OF
TAZEWELL COUNTY ON
FEBRUARY 10, 1997 AT 12:56PM
JAMES E. BLEVINS, CLERK
BY: Betty G. Buchanan DEPUTY CLERK

This instrument prepared by
Gillespie, Hart, Altizer & Whitesell, P.C.

BK0727PG0334

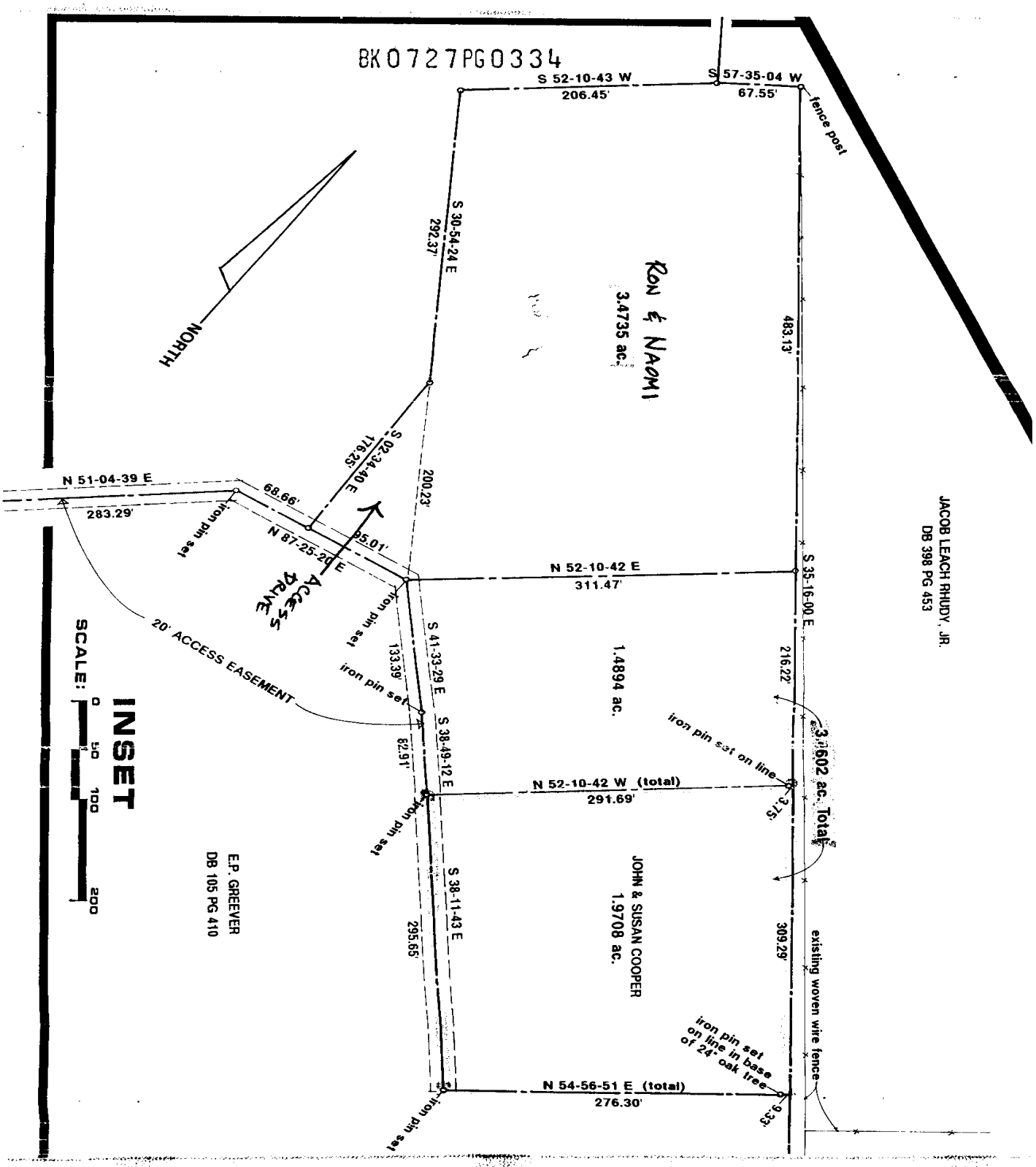

Mailed To: Edgar Greever
Box 456
Burkes Garden, Va.
10/1/87

BOOK 568 PAGE 652

THIS DEED, made and entered into, this the 29th day of May, 1987, by and between EDGAR P. GREEVER and LUCIE G. GREEVER, his wife, parties of the first part, and JOHN W. COOPER and SUSAN M. COOPER, his wife, parties of the second part;

W I T N E S S E T H:

That for and in consideration of the sum of One Dollar ($1.00), and other good and valuable consideration in hand paid, the receipt of which is hereby acknowledged, the said Edgar P. Greever and Lucie G. Greever, his wife, parties of the first part, do hereby grant and convey, with general warranty and English covenants of title, unto the said John W. Cooper and Susan M. Cooper, his wife, parties of the second part, all of the following described tract or parcel of land situate in Burkes Garden, Tazewell County, Virginia, to-wit:

> BEGINNING at an iron pin in the west line of land of Jacob Leach Rhudy, Jr., said iron being S. 35° 16' 00" E. 699.35 feet from an existing fence post corner, northwestern most corner of Rhudy (DB 398 PG 453); thence with Rhudy's line, S. 35° 16' 00" E. 309.29 feet to a set iron pin; thence leaving Rhudy's line and through the lands of the said Edgar P. Greever, S. 54° 56' 51" W. 276.30 feet to a set iron pin; thence, N. 38° 49' 12" W. 295.65 feet to a set iron pin; thence, N. 52° 10' 42" E. 291.69 feet to the point of BEGINNING, containing 1.9707 acres, more or less.

And for the consideration aforesaid and as appurtenant to the property hereby conveyed, the parties of the first part further grant unto the parties of the second part a road right-of-way and easement, twenty feet in width which leads from the southwest side of the property hereby conveyed to Virginia Route 727, the centerline of which runs as follows, to-wit:

> BEGINNING at a point in the southwest line of the property hereby conveyed; thence with same, N. 38° 49' 12" W. 295.65 feet to a point; thence, N. 38° 40' 12" W. 82.91 feet to a point; thence, N. 41° 33' 29" W. 133.39 feet to a point; thence, S. 87° 25' 20" W. 163.67 feet to a point; thence, S. 51° 04' 39" W. 283.29 feet to a point; thence, N. 44° 28' 46" W. 105.57 feet to a point; thence, N. 38° 07' 53" W. 122.88 feet to a point; thence, N. 31° 44' 53" W. 176.00 feet to a point; thence, N. 44° 04' 36" W. 43.92 feet to a point; thence, N. 68° 35' 39" W. 142.29 feet to a point; thence, N. 73° 12' 24" W. 65.21 feet to a point; thence, N. 61° 53' 33" W. 106.48 feet to a point; thence, N. 81° 59' 26" W. 134.29 feet to a point; thence, S. 82° 19' 41" W. 44.42 feet to a point; thence, S. 51° 38' 42" W. 89.43 feet to a point in the center of Virginia Highway Route No. 727.

The property hereby conveyed is a part of the real estate which was acquired by the male grantor herein as follows, to-wit:

(1) Under the will of Emma H. Greever dated October 13, 1954, which was duly probated in the Clerk's Office of the Circuit Court of Tazewell County, Virginia, on January 31, 1961, and is found of record therein in Will Book 18, at page 116.

(2) Deed from Ida R. Greever dated May 23, 1961, which deed is also found of record in said Clerk's Office in Deed Book 292, at page 232.

It is expressly understood and agreed by and between the parties hereto that this conveyance is made subject to the condition that the male grantor herein shall have the paramount, right and opportunity to reacquire the property hereby conveyed at such price as shall equal any other bona fide offer which the grantees may receive from another.

WITNESS the following signatures and seals.

Edgar P. Greever, (SEAL)
Edgar P. Greever

Lucie G. Greever, (SEAL)
Lucie G. Greever

STATE OF Virginia,
COUNTY OF Tazewell, to-wit:

The forgoing instrument was acknowledged before me, this 8th day of September, 1987, by Edgar P. Greever and Lucie G. Greever, his wife.

Given under my hand and notarial seal, this 8th day of September, 1987.

My commission expires: My Commission Expires June 8, 1988.

Barbara L. Cordle
Notary Public

VIRGINIA: In the Clerk's Office of Tazewell Circuit Court September 11, 1987
This deed was presented and upon the annexed Certificate of acknowledgment admitted to record at 11:00 A.M. The tax imposed by 58-54.1 of the Code has been paid in the amount of $.

Teste: Barry R. Nelly Jr. Deputy Clerk